Quantitative Evaluation of Different Interpolation Methods

Oluwaseyi Ezekiel
January 17, 2026

Interpolated Surface (DEM)

Difference
(Binned DEM - Interpolation)

INVERSE DISTANCE WEIGHTED

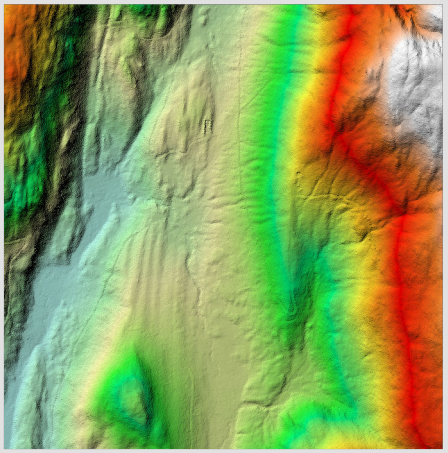



NATURAL NEIGHBOR

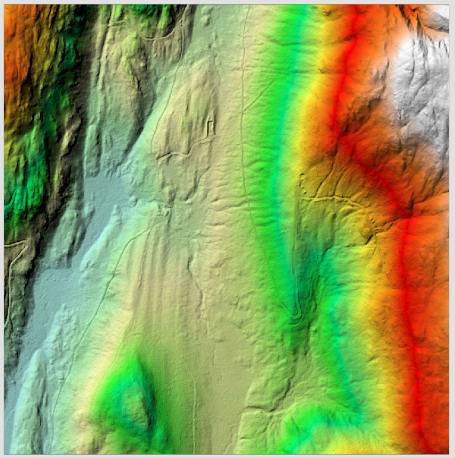

SPLINE

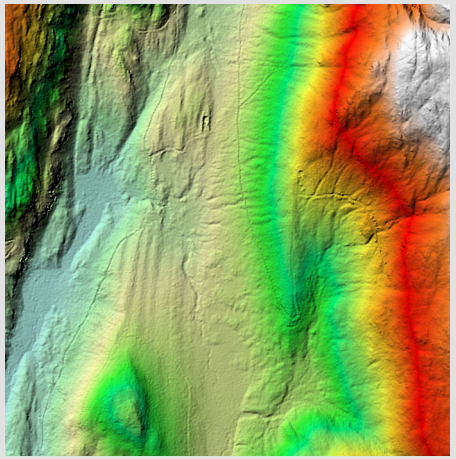



ZONAL STATISTICS

DEM

ZONE	MEAN	STD
Low	-0.003266	0.436365
Medium	0.106837	0.533282
High	0.23624	0.619812

SLOPE

ZONE	MEAN	STD
Low	0.063946	0.501627
Medium	0.113532	0.647506
High	0.113346	0.646019

DEM

ZONE	MEAN	STD
Low	-0.028664	0.149951
Medium	-0.046809	0.197773
High	-0.067174	0.345325

SLOPE

ZONE	MEAN	STD
Low	-0.039373	0.180777
Medium	-0.062404	0.252925
High	-0.060163	0.246015

DEM

ZONE	MEAN	STD
Low	0.009215	0.35037
Medium	0.101255	0.396161
High	0.206094	0.431244

SLOPE

ZONE	MEAN	STD
Low	0.065678	0.38266
Medium	0.089109	0.500784
High	0.092086	0.52152

UBC Malcolm Knapp Research Forest
Projection: NAD 1983 UTM Zone 10N