Terrain Analysis and Riparian Area Management in Nahmint Watershed Region in British Columbia, Canada

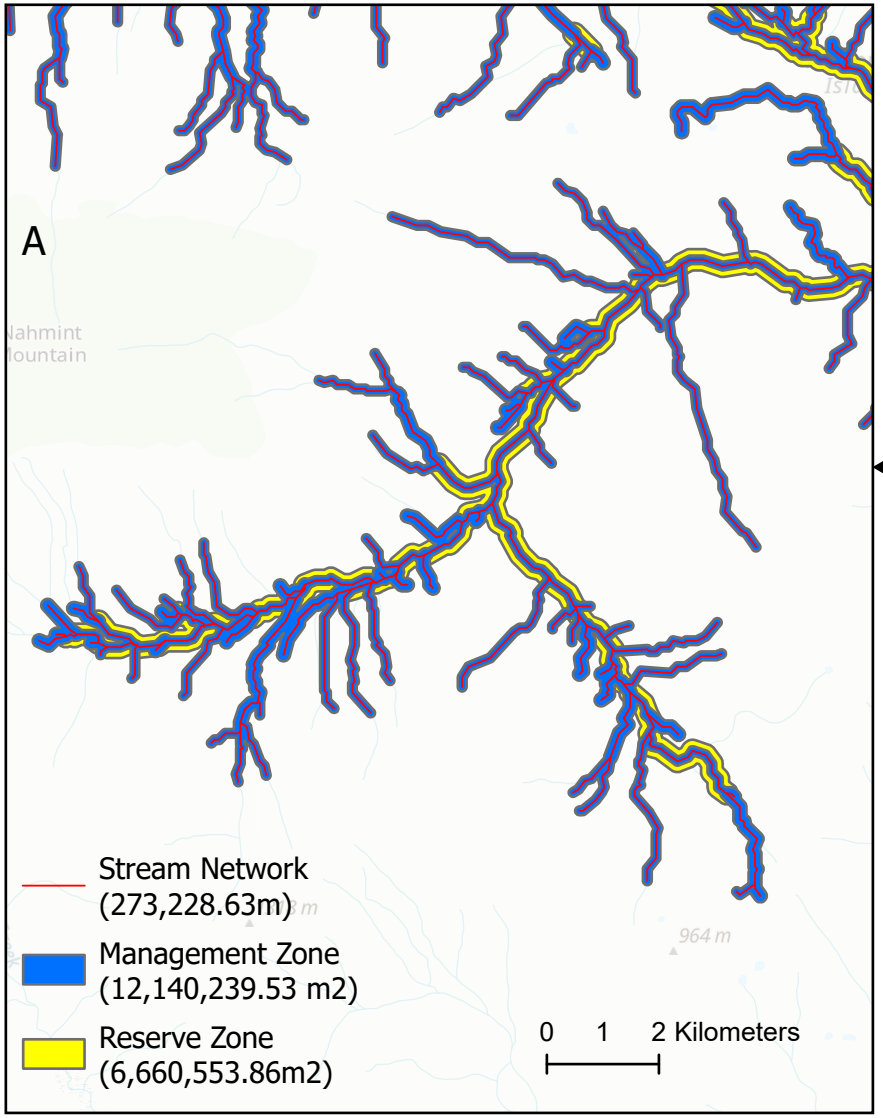

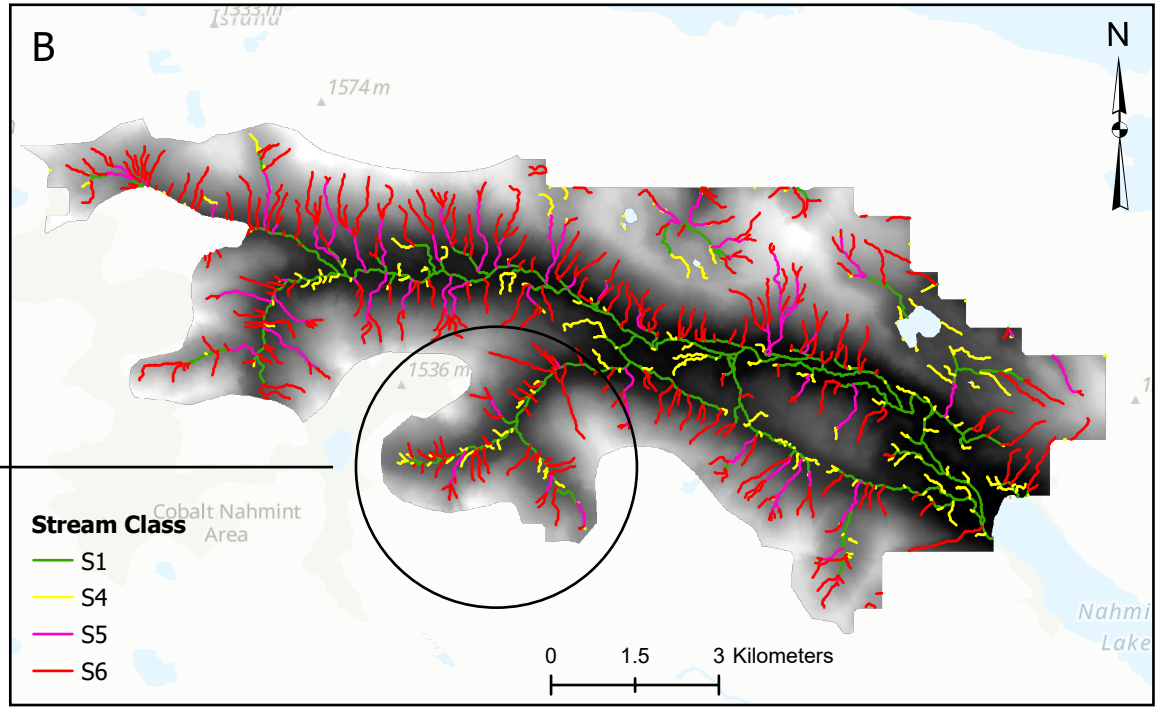

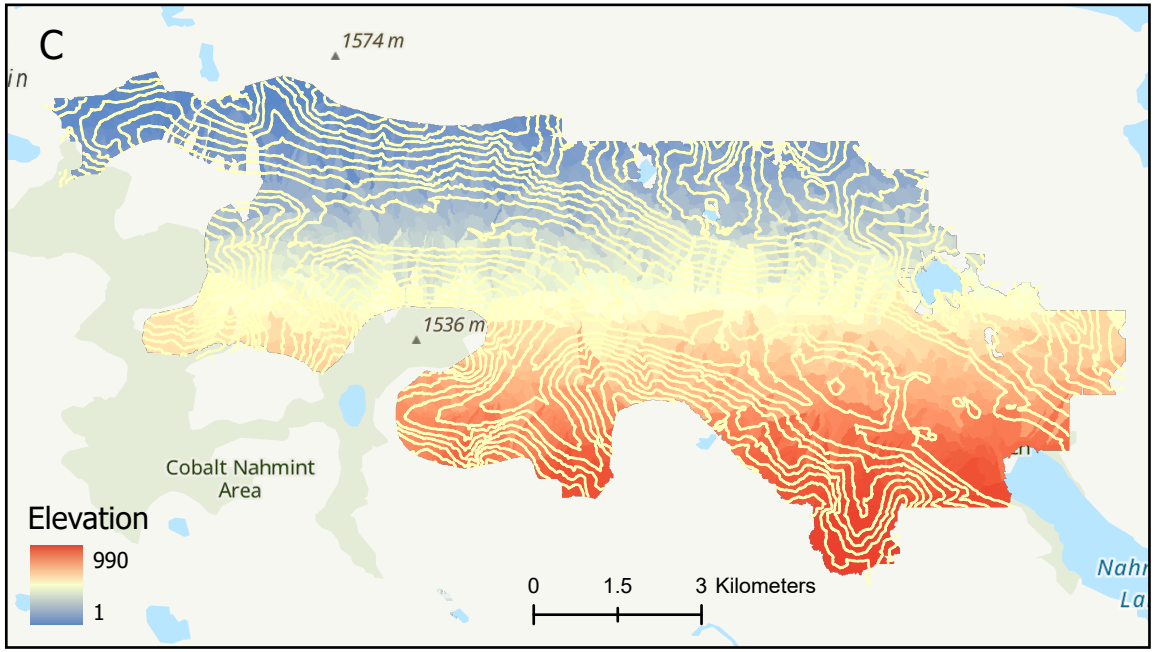

A: Inset map of stream network and Riparian Management Areas.
B. Stream Networks symbolized by stream class
C. Nahmint Watersheds and Contour lines

Oluwaseyi Ezekiel
GEM511 Lab 3
02/14/2026